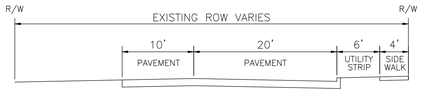

BRYANT ROAD - SECTION A-A
N.T.S.

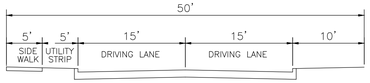

PRIVATE STREET - SECTION B-B
N.T.S.

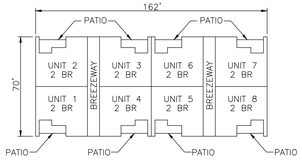

TYPICAL APARTMENT BLDG.

Title of Property				
Zoning	Corridor Business (B-3)			
	Lot 1	Lot 2	Lot 3	Totals
Street Frontage	575'	93.15'		
Site Acreage	1.86	4.98	0.4	
Lot Coverage	10,900	42,600		
Building Square Footage	43,600	98,314		
Number of Dwelling Units		100		
Number of Bedrooms	95	172		
Floor Area Ratio	0.54	N/A		
Height of Building - In Feet	50'	20'-35'		
Parking Provided (incl H/C)	104	161		
Handicap Parking Provided	5	10		
Bicycle Parking	0	17		
Vehicular Use Area	46,750	52,262		
Interior Landscape Required	2,337	5226		
Interior Landscape Provided	2,500	5470		
Int. Tree Canopy - Required	16,191	15,679		
Int. Tree Canopy - Provided		15,750		
Open Space - Useable Required		21,711		
Open Space - Provided		73,516		
Open Space - Vegetated Required		21,711		
Open Space - Provided		73516.00		
Common Open Space		N/A		
Use	Hotel	Apartments		

OWNER'S CERTIFICATION

I (WE) DO HEREBY CERTIFY THAT I AM (WE ARE) THE ONLY OWNER(S) OF THE PROPERTY SHOWN HEREON, DO FULLY AGREE TO ALL GRAPHIC AND TEXTUAL REPRESENTATIONS SHOWN HEREON, AND DO ADOPT THIS AS MY (OUR) DEVELOPMENT PLAN FOR THE PROPERTY.

OWNER DATE

PLANNING COMMISSION'S CERTIFICATION

I DO HEREBY CERTIFY THAT THIS DEVELOPMENT PLAN WAS APPROVED BY THE URBAN COUNTY PLANNING COMMISSION AT ITS MEETING HELD ON _____

PLANNING SECRETARY DATE

PURPOSE

THE PURPOSE OF THIS AMENDMENT IS TO RECONFIGURE THE IMPROVEMENTS ON LOT 2.

SOIL TYPES

LoC2 - LORADALE SILT LOAM 6 TO 12% SLOPE
MIB - MAURY SILT LOAM 2 TO 6% SLOPE
MuB - MERCER SILT LOAM 2 TO 6% SLOPE

TREE INVENTORY MAP LIST

Acer	MAPLE
Carya	HICKORY
Celtis	HACKBERRY
Fraxinus americana	WHITE ASH
Juglans nigra	BLACK WALNUT
Lonicera	HONEYSUCKLE
Malus	APPLE
Platanus occidentalis	SYCAMORE
Pyrus	PEAR

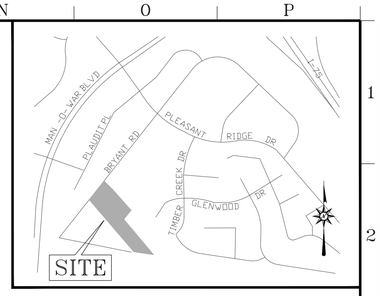

VICINITY MAP
NOT TO SCALE

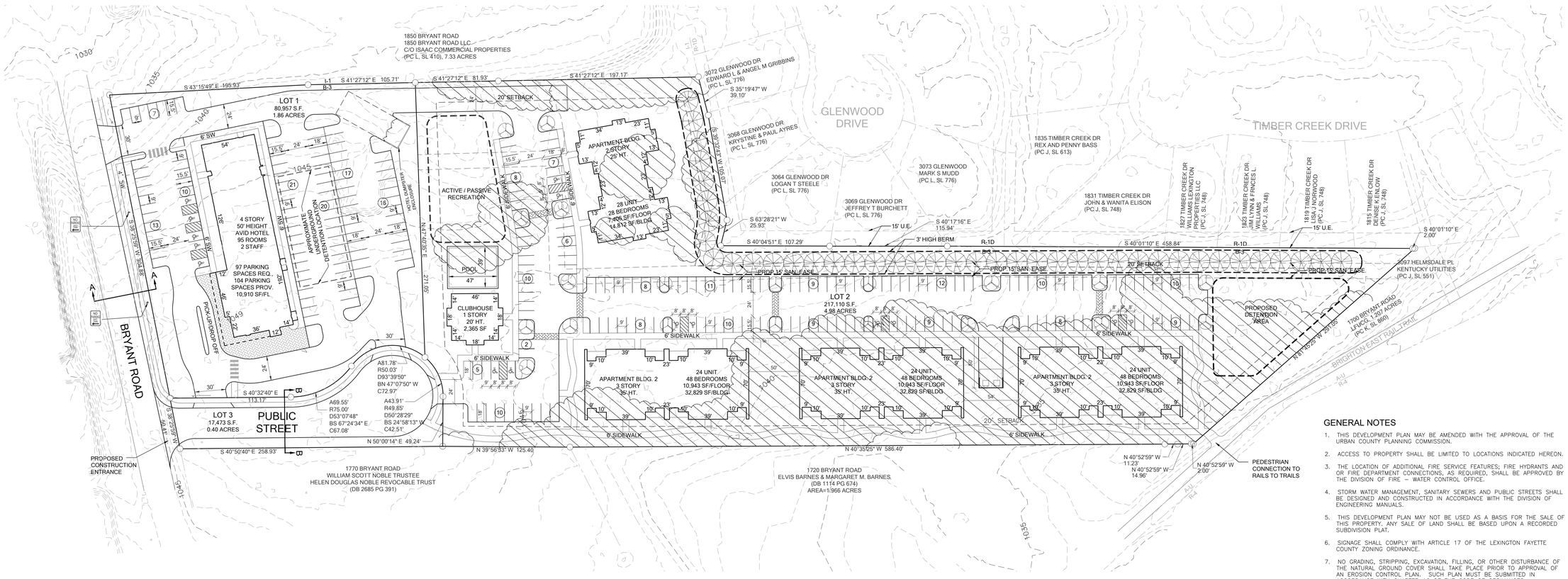

GENERAL NOTES

1. THIS DEVELOPMENT PLAN MAY BE AMENDED WITH THE APPROVAL OF THE URBAN COUNTY PLANNING COMMISSION.
2. ACCESS TO PROPERTY SHALL BE LIMITED TO LOCATIONS INDICATED HEREON.
3. THE LOCATION OF ADDITIONAL FIRE SERVICE FEATURES; FIRE HYDRANTS AND OR FIRE DEPARTMENT CONNECTIONS, AS REQUIRED, SHALL BE APPROVED BY THE DIVISION OF FIRE – WATER CONTROL OFFICE.
4. STORM WATER MANAGEMENT, SANITARY SEWERS AND PUBLIC STREETS SHALL BE DESIGNED AND CONSTRUCTED IN ACCORDANCE WITH THE DIVISION OF ENGINEERING MANUALS.
5. THIS DEVELOPMENT PLAN MAY NOT BE USED AS A BASIS FOR THE SALE OF THIS PROPERTY. ANY SALE OF LAND SHALL BE BASED UPON A RECORDED SUBDIVISION PLAT.
6. SIGNAGE SHALL COMPLY WITH ARTICLE 17 OF THE LEXINGTON FAYETTE COUNTY ZONING ORDINANCE.
7. NO GRADING, STRIPPING, EXCAVATION, FILLING, OR OTHER DISTURBANCE OF THE NATURAL GROUND COVER SHALL TAKE PLACE PRIOR TO APPROVAL OF AN EROSION CONTROL PLAN. SUCH PLAN MUST BE SUBMITTED IN ACCORDANCE WITH CHAPTER 16 OF THE CODE OF ORDINANCES.
8. LANDSCAPING SHALL CONFORM WITH ARTICLE 18 OF THE URBAN COUNTY ZONING ORDINANCE, GEORGETOWN ROAD LANDSCAPE CORRIDOR REQUIREMENTS AND ARTICLE 6–10 OF THE LAND SUBDIVISION REGULATIONS AND TREE PROTECTION ORDINANCE.
9. ALL AREAS DISTURBED BY GRADING SHALL HAVE A TEMPORARY VEGETATIVE COVER PROVIDED. SUCH COVER WILL CONSIST OF ANNUAL GRASSES, OR SMALL GRAINS. SLOPES EXCEEDING 4:1 WILL HAVE ADDITION PROTECTION OF MULCHING OR SODDING IN ORDER TO PREVENT EROSION.
10. ALL BUILDINGS, PAVING, SIGNS, FENCES, WALLS AND RETAINING WALLS THAT ARE DEPICTED, DESCRIBED OR REQUIRED ON THIS DEVELOPMENT PLAN SHALL REQUIRE A SEPARATE REVIEW AND BUILDING PERMIT FROM THE DIVISION OF BUILDING INSPECTION PRIOR TO CONSTRUCTION.
11. STRUCTURES BUILT IN ALLUVIAL SOILS WILL HAVE A FOUNDATION AND FOOTER DETAIL PREPARED BY A LICENSED PROFESSIONAL ENGINEER PRIOR TO ISSUANCE OF A BUILDING PERMIT.
12. NO BUILDING PERMITS SHALL BE ISSUED UNLESS AND UNTIL A FINAL DEVELOPMENT PLAN IS APPROVED BY THE PLANNING COMMISSION.

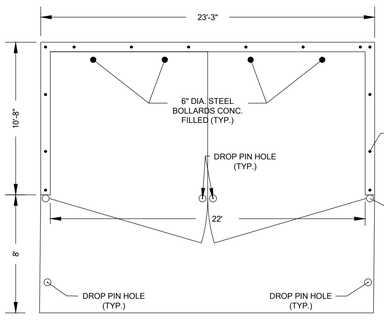

DOUBLE DUMPSTER ENCLOSURE DETAIL
NTS

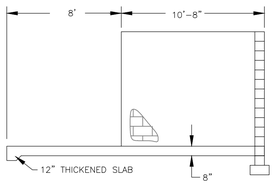

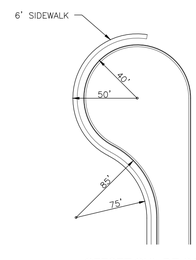

OFFSET CUL-DE-SAC
NTS

TREE CANOPY STATISTICS

LOT 2

TOTAL AREA (AREA OF DEVELOPMENT)	217,109 S.F. (4.98 AC.)
REQ. TREE CANOPY COVERAGE (20%)	43,422 S.F. (1.00 AC.)
EXISTING TREE CANOPY (46.74%)	101,482 S.F. (2.33 AC.)
EXISTING CANOPY TO REMAIN (0.00%)	0.00 S.F. (0.00 AC.)
PRO. TREES	
LARGE TREES (58)	43,500 S.F.
TOTAL TREE CANOPY COVERAGE (20.0%)	43,500 S.F. (1.01 AC.)

JUSTIFICATION FOR TREE REMOVAL

EXISTING TREE CANOPY OF 217,109 S.F. WILL BE REMOVED DUE TO DESIGN CONFLICTS, FOR THE CONSTRUCTION OF APARTMENT BUILDING AND ASSOCIATED PARKING.

TREE LEGEND

EXISTING TREE CANOPY

EXISTING TREE REMOVED

CONDITIONAL ZONING RESTRICTIONS

UNDER THE PROVISIONS OF ARTICLE 6-7 OF THE ZONING ORDINANCE, THE FOLLOWING USE RESTRICTIONS ARE PROPOSED FOR THE SUBJECT PROPERTY VIA CONDITIONAL ZONING:

PROHIBITED USES

1. ESTABLISHMENTS AND LOTS FOR THE DISPLAY, RENTAL, SALE, SERVICE OR REPAIR OF FARM EQUIPMENT, CONTRACTOR EQUIPMENT, AUTOMOBILES, MOTORCYCLES, TRUCKS, BOATS, TRAVEL TRAILERS, MOBILE HOMES, OR SUPPLIES FOR SUCH ITEMS.
2. AUTOMOBILE SERVICE STATIONS.
3. INDOOR AMUSEMENT SUCH AS BILLIARD OR POOL HALLS, DANCING HALLS, SKATING RINKS, THEATERS OR BOWLING ALLEYS.
4. DRIVE-IN RESTAURANTS.
5. MAJOR OR MINOR AUTOMOBILE AND TRUCK REPAIR.
6. ALL ADULT ENTERTAINMENT USES, MASSAGE PARLORS, ADULT BOOKSTORES, ADULT VIDEO STORES AND ADULT ARCADES.
7. DRIVE-THROUGH FACILITIES FOR SALE OF GOODS OR PRODUCTS OR PROVISION OF SERVICES OTHERWISE PERMITTED HEREIN.
8. KENNELS.
9. "ADVERTISING SIGNS" (BILLBOARDS) AS DEFINED IN ARTICLE 17-3(b)(1) OF THE ZONING ORDINANCE.
10. OUTDOOR LIGHTING OF ANY KIND SHALL BE DIRECTED DOWNWARD AND NOT TOWARD ANY RESIDENTIALLY ZONED PROPERTY.
11. A 15-FOOT WIDE LANDSCAPE BUFFER SHALL BE PROVIDED ALONG THE COMMON PROPERTY LINE OF THE SUBJECT PROPERTY WITH THE TIMBER CREEK SUBDIVISION PARCELS. AN EARTHEN BERM AND A FENCE 6-FOOT IN HEIGHT SHALL BE INSTALLED ALONG THIS BOUNDARY.

GRAPHIC SCALE
0' 50' 100' 150' 200'
SCALE: 1" = 50'

VISION ENGINEERING
Water Resources, Civil Engineering, Geotechnical, Land Surveying, Materials Testing, and Construction Inspection Consultants
129 E. Reynolds Road, Lexington, KY 40517
Ph.(859) 333-8015 - Fax: (859) 523-0095
www.visionengr.com

PROPERTY OWNER:
RAINMAKER HOLDINGS V11, LLC
2452 SIR BARTON WAY, STE. 101
LEXINGTON, KY 40509

APPLICANT:
ED WORLEY
LEXINGTON, KY

BRYANT PROPERTY
1800 BRYANT ROAD
LEXINGTON, FAYETTE COUNTY, KENTUCKY

DATE: FEB. 02, 2026
REV:

AMENDED FINAL DEVELOPMENT PLAN

PLN–MJDP–26–00010